Property Tax Assessment Analysis

268 Marshall Circle
Raleigh County · March 5, 2026

268 Marshall Circle

Shady Spring, WV 25918 · Parcel: 41-08- 27-0026.0005

Living Area	**1,888 sqft**	Lot Size	**13,068 sqft**
Bedrooms	**3**	Bathrooms	**2**
Year Built	**1978**	Property Type	**Residential**

Assessment Analysis

County Appraised Value	**$118,900**
Assessment Ratio (WV)	**60%**
Taxable Assessed Value	**$71,340**
Market Value (Comps)	**$179,118**
Underassessment	**-$60,218**

Factors Considered in Our Analysis

The following factors were considered in our analysis of your property's value:

🏭 **Commercial/Industrial Zone**
2 industrial zone(s) within 1 mile

⚡ **Power Lines**
2 high-voltage transmission line(s) within 1 mile

Source: Census TIGERweb, FEMA National Flood Hazard Layer, OpenStreetMap

Valuation Analysis

The subject property at 268 Marshall Circle, Shady Spring, WV 25918 is a 1,888 sq ft Residential constructed in 1978, situated on a 13,068 sq ft lot.

A search of recent residential sales within 5 miles identified 14 comparable properties sold within the past 24 months. These properties range from 1,110 to 2,750 sq ft. The median estimated value per square foot among these comparables is $117. Note: An expanded search radius was used due to limited comparable sales in the immediate area.

Applying the 25th percentile price of $95 per square foot to the subject property's 1,888 sq ft yields a market value estimate of approximately $179,118.

The comparable properties used in this analysis are detailed in the table below. All properties are residential, sold within 24 months, and located within 5 miles of the subject property.

Note: WV does not publicly disclose sale prices. Comparable values shown are estimated market values derived from property and market data.

Additionally, environmental or locational factors affecting this property may further impact its market value.

Comparable Property Analysis

#	ADDRESS	DISTANCE	SQFT	YEAR	SALE DATE	EST. MARKET VALUE	$/SQFT
S	268 Marshall Circle (Subject)	—	1,888	1978	—	—	—

#	ADDRESS	DISTANCE	SQFT	YEAR	SALE DATE	EST. MARKET VALUE	$/SQFT
1	131 LILLY ST	—	1,110	—	6/17/2025	$140,000	$126
2	200 LITTLE VINE DR	—	1,950	—	1/14/2025	$185,000	$95
3	231 LEWIS DR	—	2,280	—	12/1/2024	$275,100	$121
4	235 ROYAL OAKS DR	—	2,248	—	7/25/2024	$407,000	$181
5	109 HICKORY CT	—	2,161	—	7/18/2024	$395,000	$183
6	1103 OVERLOOK DR	—	1,792	—	7/20/2025	$210,000	$117
7	510 SKYLINE DR	—	1,792	—	10/17/2024	$165,000	$92
8	805 WOODLAWN AVE	—	1,820	—	5/6/2024	$210,000	$115
9	359 FAR COUNTRY DR	—	2,750	—	6/24/2024	$499,000	$181
10	406 ORCHARD AVE	—	1,334	—	6/12/2025	$130,000	$97
11	209 MERCER ST	—	2,300	—	8/4/2024	$242,590	$105
12	149 MCINTOSH ST	—	1,890	—	9/4/2024	$310,000	$164
13	609 TEMPLE ST	—	1,863	—	9/19/2024	$134,000	$72
14	Near BECKLEY, WV	—	1,860	—	4/16/2024	$150,000	$81

MEDIAN EST. VALUE	25TH PCTL $/SQFT	SUBJECT SQFT	MARKET VALUE
$210,000	**$95**	**1,888**	**$179,118**

Comparable properties within 5 miles, sold within the past 24 months. Values shown are estimated market values — WV does not publicly disclose sale prices.

Comparable Properties Map

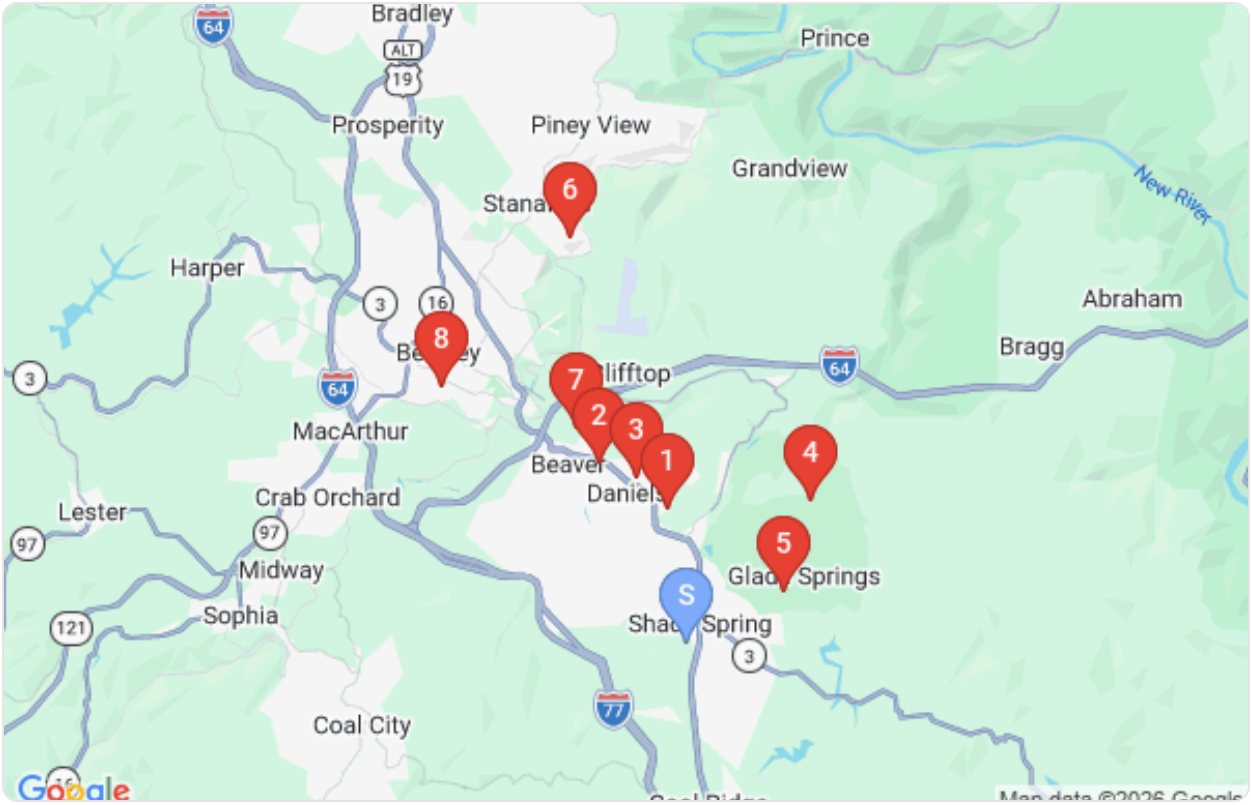

Subject property (blue pin) and comparable property locations (red pins)

Comparable Property Details

1

EST. MARKET VALUE
$140,000

131 LILLY ST

1,110 sqft · Sold 6/17/2025 · $126/sqft

2

EST. MARKET VALUE
$185,000

200 LITTLE VINE DR

1,950 sqft · Sold 1/14/2025 · $95/sqft

3

EST. MARKET VALUE
$275,100

231 LEWIS DR

2,280 sqft · Sold 12/1/2024 · $121/sqft

4

EST. MARKET VALUE
$407,000

235 ROYAL OAKS DR

2,248 sqft · Sold 7/25/2024 · $181/sqft

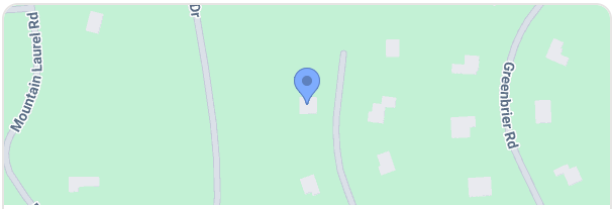

5

EST. MARKET VALUE
$395,000

109 HICKORY CT

2,161 sqft · Sold 7/18/2024 · $183/sqft

6

EST. MARKET VALUE
$210,000

1103 OVERLOOK DR

1,792 sqft · Sold 7/20/2025 · $117/sqft

7

EST. MARKET VALUE
$165,000

510 SKYLINE DR

1,792 sqft · Sold 10/17/2024 · $92/sqft



8

EST. MARKET VALUE
$210,000

805 WOODLAWN AVE

1,820 sqft · Sold 5/6/2024 · $115/sqft

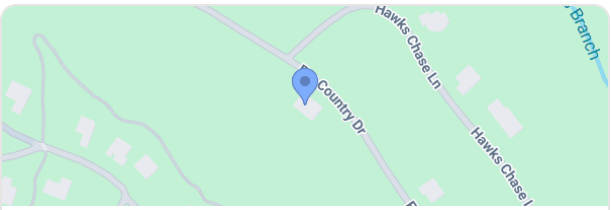

9

EST. MARKET VALUE

$499,000

359 FAR COUNTRY DR

2,750 sqft · Sold 6/24/2024 · $181/sqft

10

EST. MARKET VALUE

$130,000

406 ORCHARD AVE

1,334 sqft · Sold 6/12/2025 · $97/sqft

11

EST. MARKET VALUE

$242,590

209 MERCER ST

2,300 sqft · Sold 8/4/2024 · $105/sqft

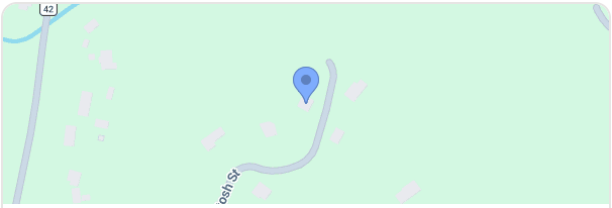

12

EST. MARKET VALUE

$310,000

149 MCINTOSH ST

1,890 sqft · Sold 9/4/2024 · $164/sqft



13

EST. MARKET VALUE

$134,000

609 TEMPLE ST

1,863 sqft · Sold 9/19/2024 · $72/sqft



14

EST. MARKET VALUE

$150,000

Near BECKLEY, WV

1,860 sqft · Sold 4/16/2024 · $81/sqft