Property Tax Assessment Analysis

733 West Service Dr
Tate County · March 5, 2026

733 West Service Dr

Coldwater, MS 38618 · Parcel: 039N04 0000700

Living Area	2,488 sqft	Lot Size	42,480 sqft
Bedrooms	3	Year Built	1940
Property Type	Residential		

Assessment Analysis

County Appraised Value	$138,169
Assessment Ratio (MS)	10%
Taxable Assessed Value	$13,817
Market Value (Comps)	$344,990
Underassessment	-$206,821

Factors Considered in Our Analysis

The following factors were considered in our analysis of your property's value:

Major Highway
1 major highway(s) within 1 mile: I-55

Railroad
1 railroad(s) within 1 mile: Canadian National Rlwy

Source: Census TIGERweb, FEMA National Flood Hazard Layer, OpenStreetMap

Valuation Analysis

The subject property at 733 West Service Dr, Coldwater, MS 38618 is a 2,488 sq ft Residential constructed in 1940, situated on a 42,480 sq ft lot.

A search of recent residential sales within 0.3 miles identified 11 comparable properties sold within the past 24 months. These properties range from 1,424 to 2,875 sq ft. The median estimated value per square foot among these comparables is $144. Note: An expanded search radius was used due to limited comparable sales in the immediate area.

Applying the 25th percentile price of $139 per square foot to the subject property's 2,488 sq ft yields a market value estimate of approximately $344,990.

The comparable properties used in this analysis are detailed in the table below. All properties are residential, sold within 24 months, and located within 0.3 miles of the subject property.

Note: MS does not publicly disclose sale prices. Comparable values shown are estimated market values derived from property and market data.

Additionally, environmental or locational factors affecting this property may further impact its market value.

Comparable Property Analysis

#	ADDRESS	DISTANCE	SQFT	YEAR	SALE DATE	EST. MARKET VALUE	$/SQFT
S	**733 West Service Dr (Subject)**	**—**	**2,488**	**1940**	**—**	**—**	**—**
1	311 Wilfred St	0.2 mi	1,424	1970	8/20/2024	$199,000	$140
2	733 West St	0.3 mi	1,572	1962	7/16/2024	$169,900	$108
3	610 OAKLEY RD	—	2,361	—	12/18/2025	$299,000	$127
4	402 BOONE CIR	—	2,188	—	7/23/2025	$380,900	$174
5	160 OAK MANOR DR	—	2,704	—	11/12/2025	$399,900	$148
6	157 OAK RIDGE LAKES DR	—	2,875	—	11/6/2025	$411,500	$143
7	151 OAK RIDGE LAKES DR	—	2,513	—	11/6/2025	$362,000	$144
8	144 OAK RIDGE LAKES DR	—	2,836	—	7/21/2025	$460,000	$162

#	ADDRESS	DISTANCE	SQFT	YEAR	SALE DATE	EST. MARKET VALUE	$/SQFT
9	2606 RIFLE RANGE RD	—	2,300	—	8/27/2025	$400,000	$174
10	1358 DAVID RD	—	1,794	—	7/20/2025	$299,900	$167
11	5679 PEYTON RD	—	2,271	—	10/31/2024	$314,900	$139

MEDIAN EST. VALUE	25TH PCTL $/SQFT	SUBJECT SQFT	MARKET VALUE
$362,000	$139	2,488	$344,990

Comparable properties within 0.3 miles, sold within the past 24 months. Values shown are estimated market values — MS does not publicly disclose sale prices.

Comparable Properties Map

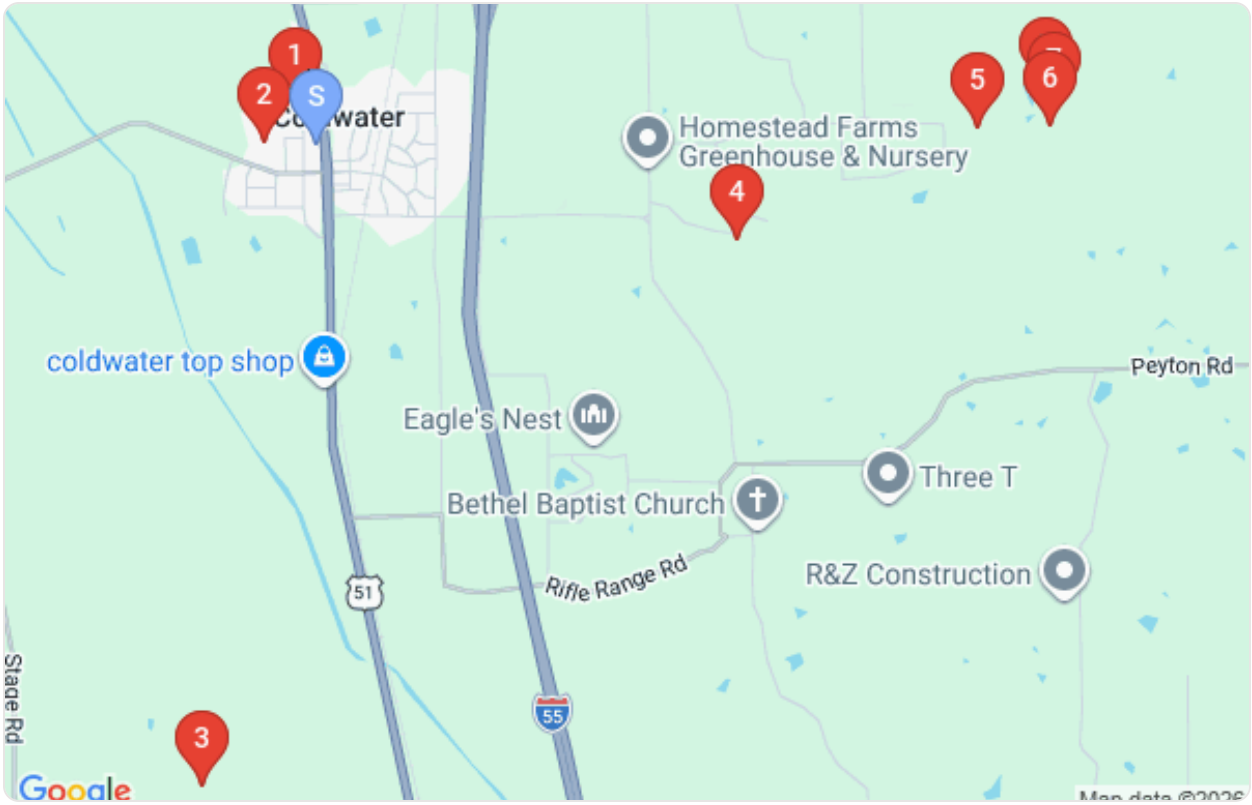

Subject property (blue pin) and comparable property locations (red pins)

Comparable Property Details



1

EST. MARKET VALUE
$199,000

311 Wilfred St

1,424 sqft · Built 1970 · 0.2 mi · Sold 8/20/2024 · $140/sqft



2

EST. MARKET VALUE
$169,900

733 West St

1,572 sqft · Built 1962 · 0.3 mi · Sold 7/16/2024 · $108/sqft

3

EST. MARKET VALUE
$299,000

610 OAKLEY RD

2,361 sqft · Sold 12/18/2025 · $127/sqft

4

EST. MARKET VALUE
$380,900

402 BOONE CIR

2,188 sqft · Sold 7/23/2025 · $174/sqft

5

EST. MARKET VALUE
$399,900

160 OAK MANOR DR

2,704 sqft · Sold 11/12/2025 · $148/sqft

6

EST. MARKET VALUE
$411,500

157 OAK RIDGE LAKES DR

2,875 sqft · Sold 11/6/2025 · $143/sqft

7

EST. MARKET VALUE
$362,000

151 OAK RIDGE LAKES DR

2,513 sqft · Sold 11/6/2025 · $144/sqft

8

EST. MARKET VALUE
$460,000

144 OAK RIDGE LAKES DR

2,836 sqft · Sold 7/21/2025 · $162/sqft

9

EST. MARKET VALUE

$400,000

2606 RIFLE RANGE RD

2,300 sqft · Sold 8/27/2025 · $174/sqft

10

EST. MARKET VALUE

$299,900

1358 DAVID RD

1,794 sqft · Sold 7/20/2025 · $167/sqft

11

EST. MARKET VALUE

$314,900

5679 PEYTON RD

2,271 sqft · Sold 10/31/2024 · $139/sqft