Property Tax Assessment Analysis

333 Dover Point Road
Strafford County · March 5, 2026

333 Dover Point Road

Dover, NH 03820 · Parcel: DOVR M:L0059 B: L:1000

Living Area	1,674 sqft	Lot Size	10,019 sqft
Bedrooms	3	Bathrooms	2
Year Built	2023	Property Type	Residential

Assessment Analysis

County Appraised Value	$664,000
Market Value (Comps)	$524,983
Overassessment	**$139,017**

Note: The most recent assessment data available for this property is from 2024. Current assessment values may differ. We recommend verifying your assessment with your county assessor before filing.

Environmental & Locational Factors

The following factors were detected within 1 mile of the subject property and may support a lower assessment:

🛣️ **Major Highway**
3 major highway(s) within 1 mile: US Hwy 4, Spaulding Tpke, State Rte 16

🏭 **Commercial/Industrial Zone**
2 commercial, 1 retail zone(s) within 1 mile

⚡ **Power Lines**
3 high-voltage transmission line(s) within 1 mile

Source: Census TIGERweb, FEMA National Flood Hazard Layer, OpenStreetMap

Valuation Analysis

The subject property at 333 Dover Point Road is a 1,674 sq ft Residential constructed in 2023, situated on a 10,019 sq ft lot.

A search of recent residential sales within 1.5 miles identified 4 comparable properties sold within the past 24 months. These properties range from 1,074 to 2,232 sq ft. The median sale price per square foot among these comparables is $405. Note: An expanded search radius was used due to limited comparable sales in the immediate area.

Applying the 25th percentile sale price of $314 per square foot to the subject property's 1,674 sq ft yields a market value estimate of approximately $524,983. The county's current appraised value of $664,000 exceeds this estimate by $139,017 (20.9%). At an effective tax rate of 1.58%, this overassessment represents approximately $2,199 in excess annual property taxes.

The comparable sales used in this analysis are detailed in the table below. All properties are residential, sold within 24 months, and located within 1.5 miles of the subject property.

Additionally, environmental or locational factors affecting this property may further impact its market value. These factors are detailed in the Filing Guide included with this packet.

Comparable Sales Analysis

#	ADDRESS	DISTANCE	SQFT	YEAR	SALE DATE	SALE PRICE	$/SQFT
S	**333 Dover Point Road (Subject)**	**—**	**1,674**	**2023**	**—**	**—**	**—**
1	Near Dover, NH	1.5 mi	2,212	2013	2/8/2026	$895,000	$405
2	27 Wentworth Ter	0.4 mi	1,074	2001	10/19/2025	$1,050,000	$978
3	7 Pineview Dr	0.4 mi	1,352	1964	1/26/2026	$530,000	$392
4	264 River Rd	1.1 mi	2,232	2001	12/25/2025	$175,000	$78

MEDIAN SALE PRICE	25TH PCTL $/SQFT	SUBJECT SQFT	MARKET VALUE
$895,000	**$314**	**1,674**	**$524,983**

Comparable sales within 1.5 miles, sold within the past 24 months. All transactions are arm's-length sales from public county records.

Comparable Properties Map

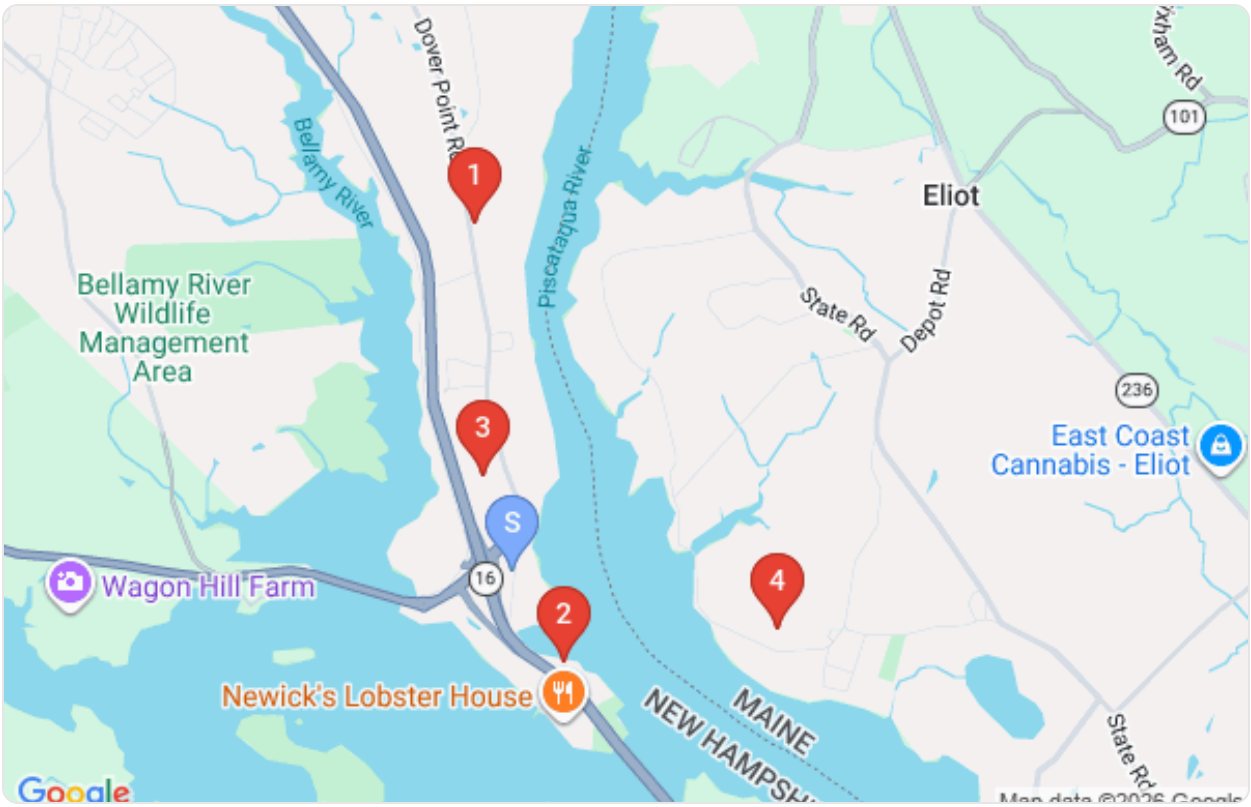

Subject property (blue pin) and comparable sales locations (red pins)

Comparable Property Details

1

SALE PRICE

$895,000

Near Dover, NH

2,212 sqft · Built 2013 · 1.5 mi · Sold 2/8/2026 · $405/sqft

2

SALE PRICE

$1,050,000

27 Wentworth Ter

1,074 sqft · Built 2001 · 0.4 mi · Sold 10/19/2025 · $978/sqft

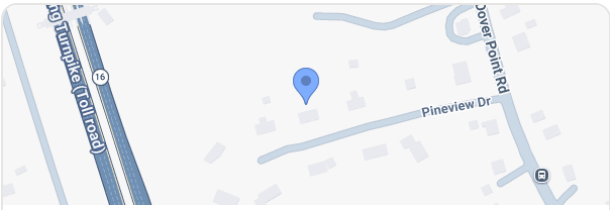

3

SALE PRICE

$530,000

7 Pineview Dr

1,352 sqft · Built 1964 · 0.4 mi · Sold 1/26/2026 · $392/sqft

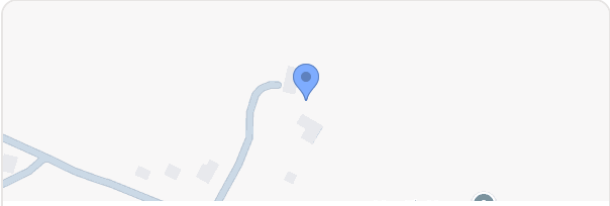

4

SALE PRICE

$175,000

264 River Rd

2,232 sqft · Built 2001 · 1.1 mi · Sold 12/25/2025 · $78/sqft