Property Tax Assessment Analysis

4610 Hanberry Dr
Guilford County · March 4, 2026

4610 Hanberry Dr

Greensboro, NC 27410 · Parcel: 0081124

Living Area	2,770 sqft	Lot Size	3,485 sqft
Bedrooms	3	Bathrooms	3
Year Built	2005	Property Type	Residential

Assessment Analysis

County Appraised Value	$281,900
Market Value (Comps)	$461,321
Underassessment	-$179,421

Factors Considered in Our Analysis

The following factors were considered in our analysis of your property's value:

Power Lines
1 high-voltage transmission line(s) within 1 mile

Source: Census TIGERweb, FEMA National Flood Hazard Layer, OpenStreetMap

Valuation Analysis

The subject property at 4610 Hanberry Dr, Greensboro, NC 27410 is a 2,770 sq ft Residential constructed in 2005, situated on a 3,485 sq ft lot.

A search of recent residential sales within 1.2 miles identified 6 comparable properties sold within the past 18 months. These properties range from 2,038 to 3,322 sq ft. The median estimated value per square foot among these comparables is $180. Note: An expanded search radius was used due to limited comparable sales in the immediate area.

Applying the 25th percentile price of $167 per square foot to the subject property's 2,770 sq ft yields a market value estimate of approximately $461,321.

The comparable properties used in this analysis are detailed in the table below. All properties are residential, sold within 18 months, and located within 1.2 miles of the subject property.

Note: NC does not publicly disclose sale prices. Comparable values shown are estimated market values derived from property and market data.

Additionally, environmental or locational factors affecting this property may further impact its market value.

Comparable Property Analysis

#	ADDRESS	DISTANCE	SQFT	YEAR	SALE DATE	SALE PRICE*	$/SQFT
S	**4610 Hanberry Dr (Subject)**	**—**	**2,770**	**2005**	**—**	**—**	**—**
1	5005 Laurinda Dr	0.7 mi	2,697	1976	10/31/2025	$450,000	$167
2	4040 Tuscany Ln	0.4 mi	2,038	2007	9/25/2025	$367,500	$180
3	3202 Coronet Ct	0.3 mi	2,193	1997	12/15/2025	$365,000	$166
4	5905 Cedar Glen Rd	1.2 mi	2,060	1978	11/25/2025	$460,500	$224
5	4 Chesterfield Ct	0.6 mi	3,322	1966	2/20/2026	$495,000	$149
6	4813 Carlson Valley Rd	1.1 mi	2,376	1984	12/11/2025	$550,000	$231

MEDIAN PRICE	25TH PCTL $/SQFT	SUBJECT SQFT	MARKET VALUE
$460,500	**$167**	**2,770**	**$461,321**

*Comparable sales within 1.2 miles, sold within the past 18 months. All transactions are arm's-length sales from public county records. *Estimated market value — actual sale price not publicly disclosed in this state.*

Comparable Properties Map

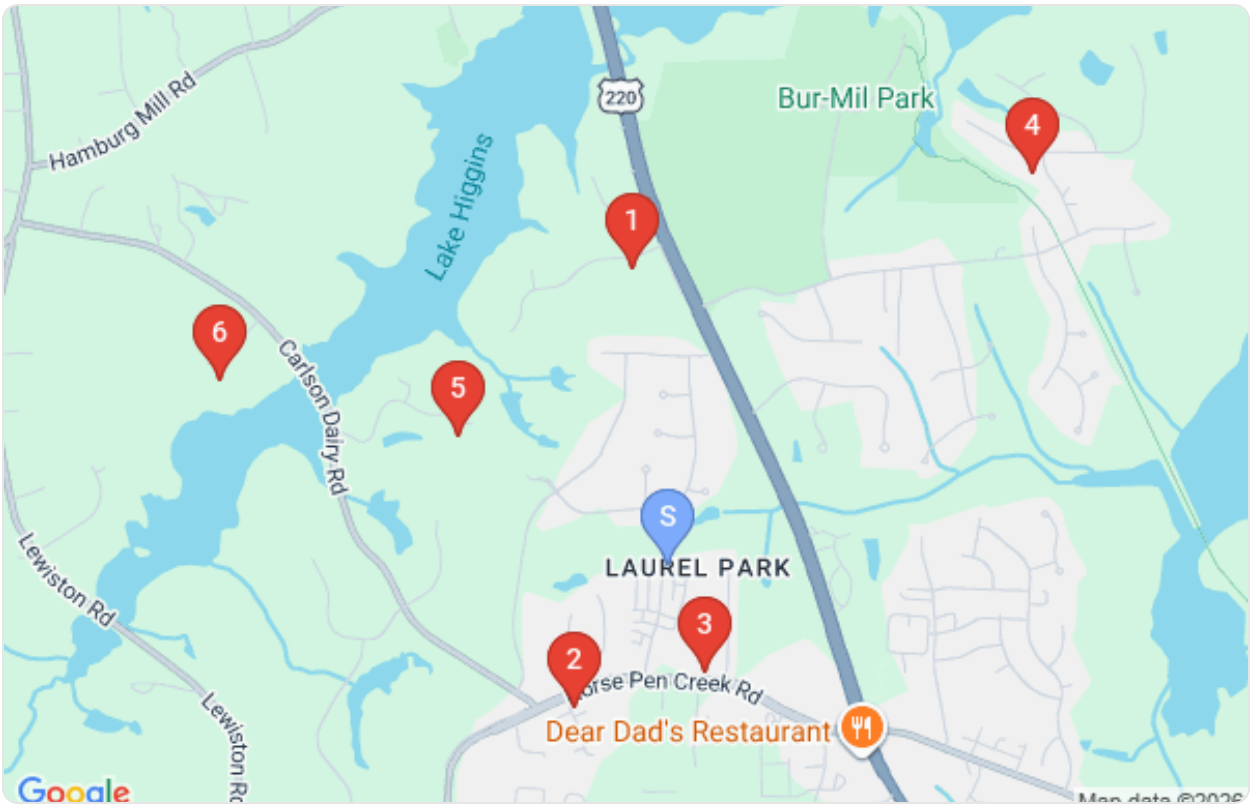

Subject property (blue pin) and comparable property locations (red pins)

Comparable Property Details

1

EST. MARKET VALUE

$450,000

5005 Laurinda Dr

2,697 sqft · Built 1976 · 0.7 mi · Sold 10/31/2025 · $167/sqft



2

SALE PRICE

$367,500

4040 Tuscany Ln

2,038 sqft · Built 2007 · 0.4 mi · Sold 9/25/2025 · $180/sqft



3

SALE PRICE

$365,000

3202 Coronet Ct

2,193 sqft · Built 1997 · 0.3 mi · Sold 12/15/2025 · $166/sqft



4

SALE PRICE

$460,500

5905 Cedar Glen Rd

2,060 sqft · Built 1978 · 1.2 mi · Sold 11/25/2025 · $224/sqft

5

SALE PRICE

$495,000

4 Chesterfield Ct

3,322 sqft · Built 1966 · 0.6 mi · Sold 2/20/2026 · $149/sqft

6

SALE PRICE

$550,000

4813 Carlson Valley Rd

2,376 sqft · Built 1984 · 1.1 mi · Sold 12/11/2025 · $231/sqft