Property Tax Assessment Analysis

1422 W Farwell Ave
Cook County · March 4, 2026



1422 W Farwell Ave

Chicago, IL 60626 · Parcel: 11-32-116-015

Living Area	**0 sqft**	Lot Size	**17,100 sqft**
Year Built	**1930**	Property Type	**Residential**

Assessment Analysis

County Appraised Value	**$2,671,400**
Assessment Ratio (IL)	**10%**
Taxable Assessed Value	**$267,140**
Market Value (Comps)	**$0**
Overassessment	**$2,671,400**

Note: The most recent assessment data available for this property is from 2023. Current assessment values may differ. We recommend verifying your assessment with your county assessor before filing.

Environmental & Locational Factors

The following factors were detected within 1 mile of the subject property and may support a lower assessment:

🚂 **Railroad**

5 railroad(s) within 1 mile: Conrail Shared Assets Operations, Norfolk Southern Rlwy, Chicago Transit Authority, Cta, Chicago and North Western RR

Source: Census TIGERweb, FEMA National Flood Hazard Layer, OpenStreetMap

Valuation Analysis

The subject property at 1422 W Farwell Ave, Chicago, IL 60626 is a Residential constructed in 1930, situated on a 17,100 sq ft lot.

A search of recent residential sales within 0.5 miles identified 3 comparable properties sold within the past 6 months. These properties range from 2,658 to 6,786 sq ft. The median sale price per square foot among these comparables is $211.

The county's current appraised value of $2,671,400 exceeds this estimate by $2,671,400 (100.0%). At IL's 10% assessment ratio, this overassessment represents approximately $6,679 in excess annual property taxes.

The comparable sales used in this analysis are detailed in the table below. All properties are residential, sold within 6 months, and located within 0.5 miles of the subject property.

Additionally, environmental or locational factors affecting this property may further impact its market value. These factors are detailed in the Filing Guide included with this packet.

Comparable Sales Analysis

#	ADDRESS	DISTANCE	SQFT	YEAR	SALE DATE	SALE PRICE	$/SQFT
S	**1422 W Farwell Ave (Subject)**	**—**	**0**	**1930**	**—**	**—**	**—**
1	1535 W Estes Ave	0.3 mi	6,786	1928	1/13/2026	$600,000	$88
2	1745 W North Shore Ave # 1	0.5 mi	2,750	1922	12/4/2025	$580,000	$211
3	6532 N Ashland Ave	0.5 mi	2,658	1918	12/23/2025	$620,500	$233

MEDIAN SALE PRICE	25TH PCTL $/SQFT	SUBJECT SQFT	MARKET VALUE
$600,000	$150	0	$0

Comparable sales within 0.5 miles, sold within the past 6 months. All transactions are arm's-length sales from public county records.

Comparable Properties Map

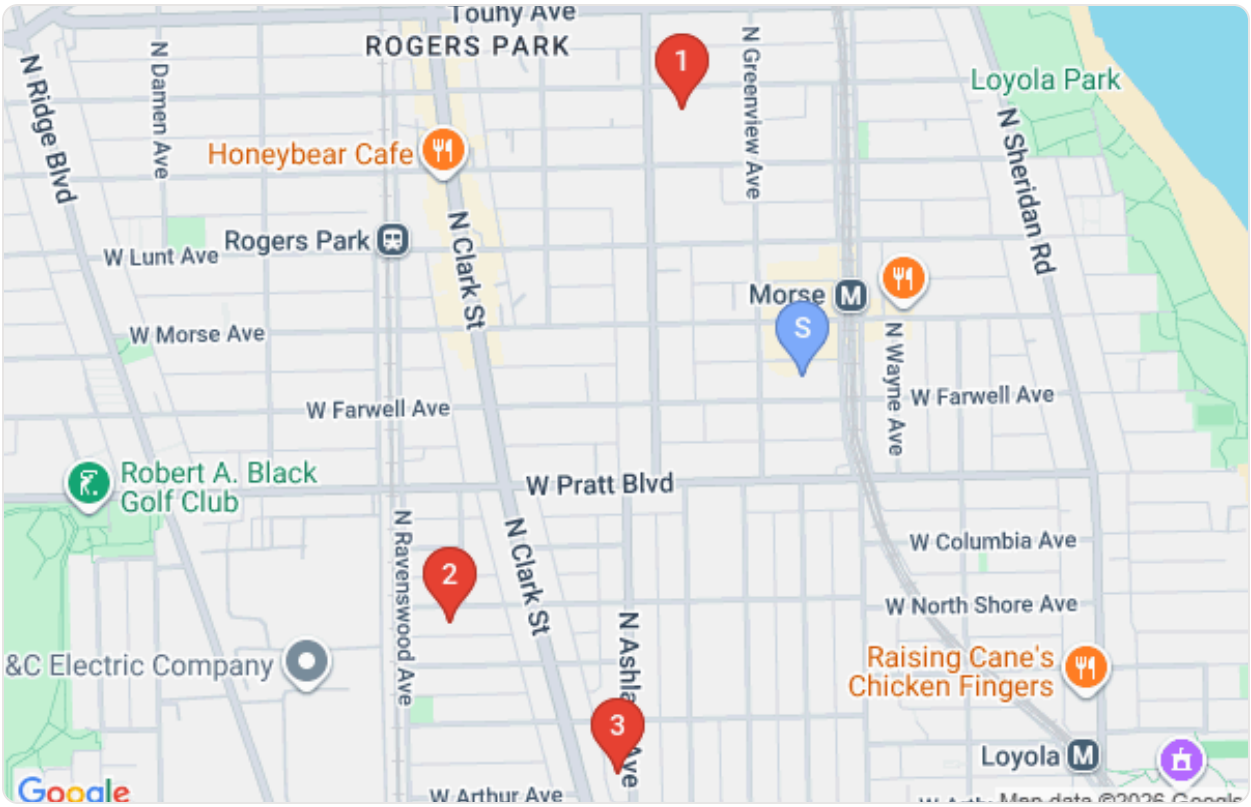

Subject property (blue pin) and comparable sales locations (red pins)

Comparable Property Details



1

SALE PRICE

$600,000

1535 W Estes Ave

6,786 sqft · Built 1928 · 0.3 mi · Sold 1/13/2026 · $88/sqft

2

SALE PRICE

$580,000

1745 W North Shore Ave # 1

2,750 sqft · Built 1922 · 0.5 mi · Sold 12/4/2025 · $211/sqft



3

SALE PRICE

$620,500

6532 N Ashland Ave

2,658 sqft · Built 1918 · 0.5 mi · Sold 12/23/2025 · $233/sqft