Property Tax Assessment Analysis

4421 SE Powell Blvd
Multnomah County · March 4, 2026



4421 SE Powell Blvd

Portland, OR 97206 · Parcel: 1S3E07CD 03400

Living Area	1,352 sqft	Lot Size	6,493 sqft
Bedrooms	3	Bathrooms	2
Year Built	1996	Property Type	Single Family

Assessment Analysis

County Assessed Value (capped)	$253,820
County Market Value	$402,100
Market Value (Comps)	$398,026
Overassessment	$4,074

Valuation Analysis

The subject property at 4421 SE Powell Blvd, Portland, OR 97206 is a 1,352 sq ft Single Family constructed in 1996, situated on a 6,493 sq ft lot.

A search of recent residential sales in the surrounding area identified 14 comparable properties sold within the past 24 months. These properties range from 1,260 to 1,698 sq ft. The median sale price per square foot among these comparables is $314. Note: An expanded search radius was used due to limited comparable sales in the immediate area.

Applying the 25th percentile sale price of $294 per square foot to the subject property's 1,352 sq ft yields a market value estimate of approximately $398,026. The county's current market value of $402,100 exceeds this estimate by $4,074 (1.0%). This overassessment represents approximately $102 in excess annual property taxes.

The comparable sales used in this analysis are detailed in the table below. All properties are residential, sold within 24 months, and located in the surrounding area of the subject property.

Comparable Sales Analysis

#	ADDRESS	DISTANCE	SQFT	YEAR	SALE DATE	SALE PRICE	$/SQFT
S	**4421 SE Powell Blvd (Subject)**	**—**	**1,352**	**1996**	**—**	**—**	**—**
1	4060 SW 8TH ST	—	1,445	—	12/19/2025	$450,000	$311
2	4811 SE POWELL BUTTE PKWY	—	1,398	—	8/14/2025	$442,500	$317
3	15911 SE TAGGART CT	—	1,600	—	11/18/2025	$465,000	$291
4	421 SW NANCY AVE	—	1,374	—	9/19/2025	$428,000	$311
5	261 SW NANCY CIR	—	1,698	—	11/13/2025	$499,900	$294
6	16418 SE HIGH MEADOW LOOP	—	1,576	—	7/10/2025	$500,000	$317
7	257 SW NANCY CIR	—	1,690	—	1/16/2026	$570,000	$337
8	490 SW NANCY AVE	—	1,695	—	10/30/2025	$499,000	$294
9	16701 SE TIBBETTS ST	—	1,358	—	10/10/2025	$360,000	$265
10	3209 SE 165TH PL	—	1,440	—	1/16/2026	$401,000	$278

#	ADDRESS	DISTANCE	SQFT	YEAR	SALE DATE	SALE PRICE	$/SQFT
11	16909 SE LAFAYETTE ST	—	1,504	—	8/12/2025	$475,000	$316
12	16830 SE FRANCIS ST	—	1,260	—	7/30/2025	$404,000	$321
13	2728 SE 175TH PL	—	1,386	—	11/18/2025	$435,000	$314
14	3786 SW 8TH ST	—	1,444	—	12/2/2025	$474,999	$329

MEDIAN SALE PRICE	25TH PCTL $/SQFT	SUBJECT SQFT	MARKET VALUE
$465,000	**$294**	**1,352**	**$398,026**

Comparable sales in the surrounding area, sold within the past 24 months. All transactions are arm's-length sales from public county records.

Comparable Properties Map

Subject property (blue pin) and comparable sales locations (red pins)

Comparable Property Details



1

SALE PRICE
$450,000

4060 SW 8TH ST

1,445 sqft · Sold 12/19/2025 · $311/sqft



2

SALE PRICE
$442,500

4811 SE POWELL BUTTE PKWY

1,398 sqft · Sold 8/14/2025 · $317/sqft

3

SALE PRICE
$465,000

15911 SE TAGGART CT

1,600 sqft · Sold 11/18/2025 · $291/sqft

4

SALE PRICE
$428,000

421 SW NANCY AVE

1,374 sqft · Sold 9/19/2025 · $311/sqft

5

SALE PRICE
$499,900

261 SW NANCY CIR

1,698 sqft · Sold 11/13/2025 · $294/sqft

6

SALE PRICE
$500,000

16418 SE HIGH MEADOW LOOP

1,576 sqft · Sold 7/10/2025 · $317/sqft

7

SALE PRICE
$570,000

257 SW NANCY CIR

1,690 sqft · Sold 1/16/2026 · $337/sqft

8

SALE PRICE
$499,000

490 SW NANCY AVE

1,695 sqft · Sold 10/30/2025 · $294/sqft



9

SALE PRICE

$360,000

16701 SE TIBBETTS ST

1,358 sqft · Sold 10/10/2025 · $265/sqft

10

SALE PRICE

$401,000

3209 SE 165TH PL

1,440 sqft · Sold 1/16/2026 · $278/sqft

11

SALE PRICE

$475,000

16909 SE LAFAYETTE ST

1,504 sqft · Sold 8/12/2025 · $316/sqft

12

SALE PRICE

$404,000

16830 SE FRANCIS ST

1,260 sqft · Sold 7/30/2025 · $321/sqft



13

SALE PRICE

$435,000

2728 SE 175TH PL

1,386 sqft · Sold 11/18/2025 · $314/sqft

14

SALE PRICE

$474,999

3786 SW 8TH ST

1,444 sqft · Sold 12/2/2025 · $329/sqft